GSGF implementation with Open Source with ECLAC

18 February 2026

Ariel Anthieni

Chair UN Committee OSGeo
CEO KAN Territory & IT
President Geolibres Argentina Member
the UN-GGIM Geospatial Societies

Global Statistical Geospatial Framework

- New, better and more integrated information for analysis and decision making processes;
- Comparisons within and between countries;
- Increased information on smaller geographic areas;
- The development of common tools/applications to support the integration and sharing of data;
- Commercial development of geospatial tools that will further support data integration; and,
- Generally more efficient production of information.

UN Open GIS INITIATIVE

Jurisdicción	Total de viviendas particulares	Total de viviendas colectivas	Total de población	Población en viviendas particulares		Población en situación de calle (vía pública)
Total	**17,780,210**	**25,501**	**46,044,703**	**45,767,858**	**273,883**	**2,962**
Ciudad Autónoma de Buenos Aires	1,638,764	1,946	3,120,612	3,092,942	26,767	903
Buenos Aires	6,695,273	6,535	17,569,053	17,450,899	117,193	961
24 Partidos del Gran Buenos Aires	3,714,607	1,383	10,865,182	10,817,508	46,877	797
Resto de partidos de la Provincia de Buenos Aires	2,980,666	5,152	6,703,871	6,633,391	70,316	164
Catamarca	158,989	449	429,556	427,415	2,139	2
Chaco	401,658	443	1,142,963	1,137,027	5,877	59
Chubut	236,010	1,123	603,120	599,568	3,508	44
Córdoba	1,630,356	3,548	3,978,984	3,946,235	32,658	91
Corrientes	406,480	555	1,197,553	1,195,538	1,977	38
Entre Ríos	559,398	1,159	1,426,426	1,416,324	9,963	139
Formosa	212,941	232	606,041	604,278	1,763	///
Jujuy	276,222	326	797,955	797,009	864	82
La Pampa	163,805	437	366,022	364,556	1,462	4
La Rioja	149,910	272	384,607	383,128	1,479	///
Mendoza	708,354	1,744	2,014,533	2,001,281	13,231	21
Misiones	466,850	652	1,280,960	1,275,142	5,792	26
Neuquén	273,685	392	726,590	723,663	2,920	7

Statistical data

+

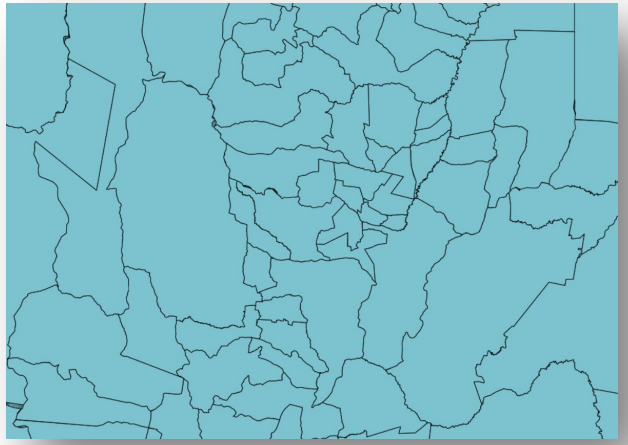

Geospatial data

Statistical geoportal

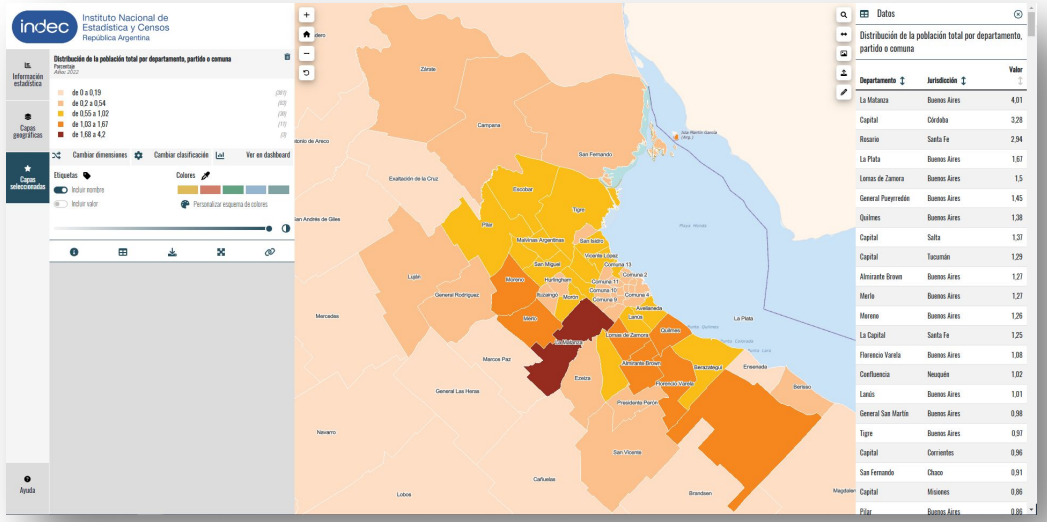

Basic scheme of the statistical geoportal

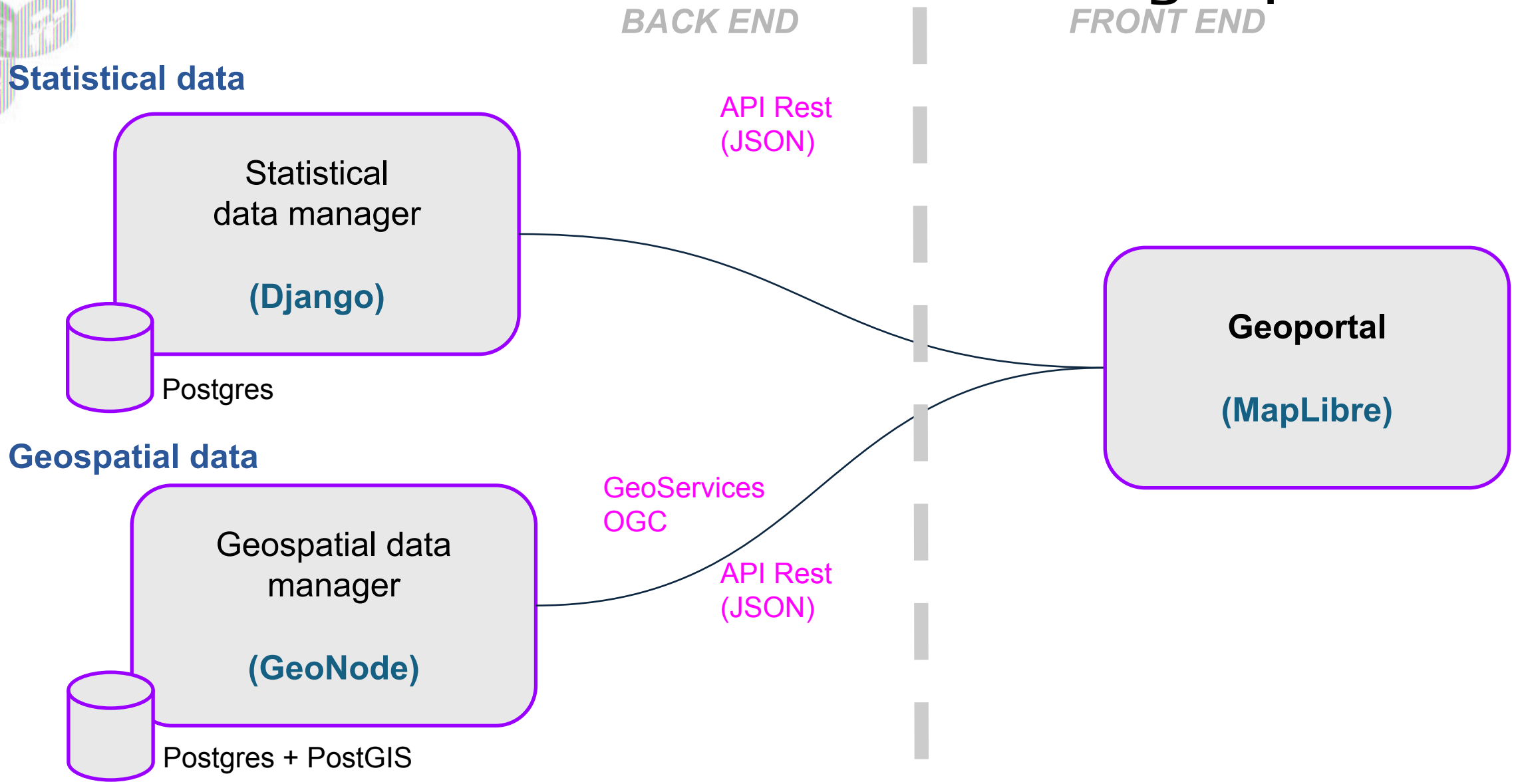

Geospatial Data Manager

Geospatial data

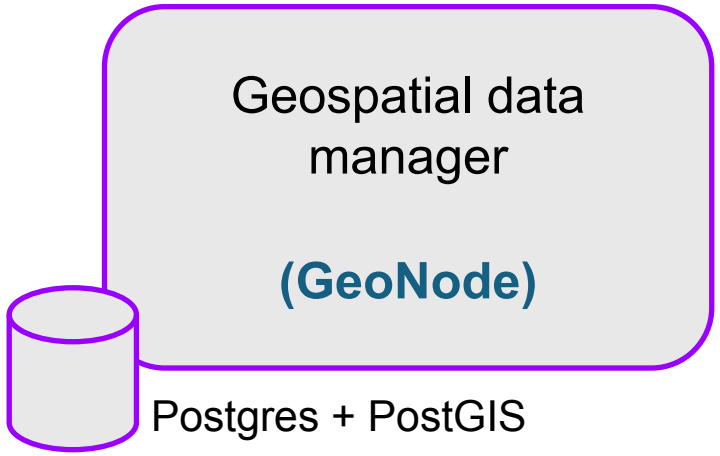

Geostatistical units layers

Other geospatial layers

Geospatial Metadata (ISO 19.115)

Styles

Cache

Statistical Data Manager

Statistical Data

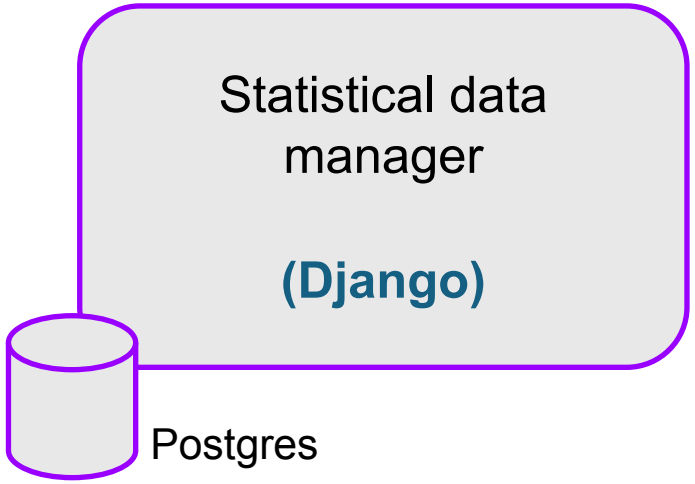

- **Thematic tree**
- **Sources**
- **Footnotes**
- **Dimensions**
- **Indicators**
- **Indicators groups**

UN Open GIS INITIATIVE

Thematic Tree

Indicators

Metadata Indicators

Legend

Territorial Unit Geospatial

Data Field

Territorial Unit Tag

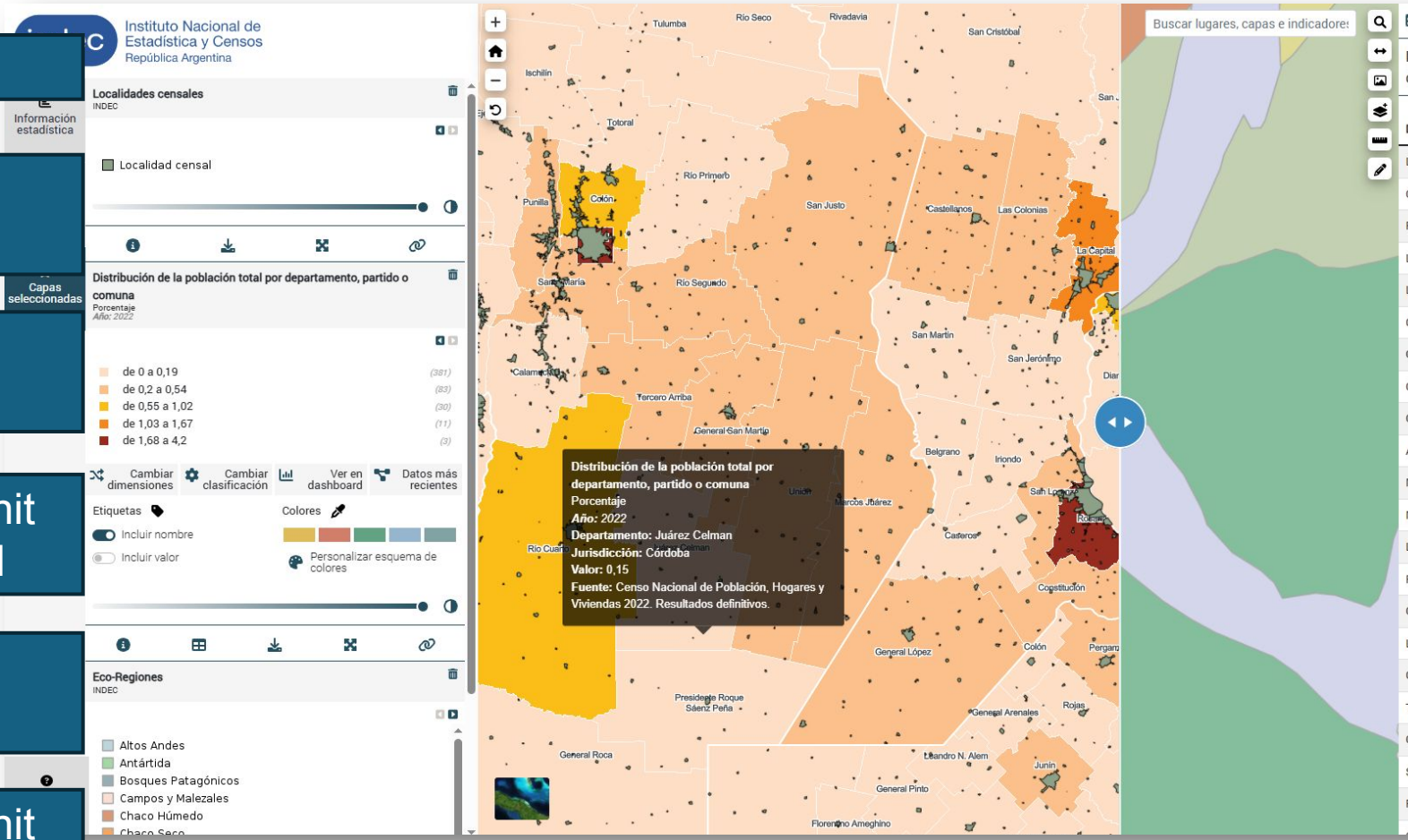

Vector Tile

Geostatistics Framework Layer

Geostatistics Framework Folder

Geospatial Layer

External Layer

Basemaps

Place (Search)

UN Open GIS INITIATIVE

BACK END

GeoServer

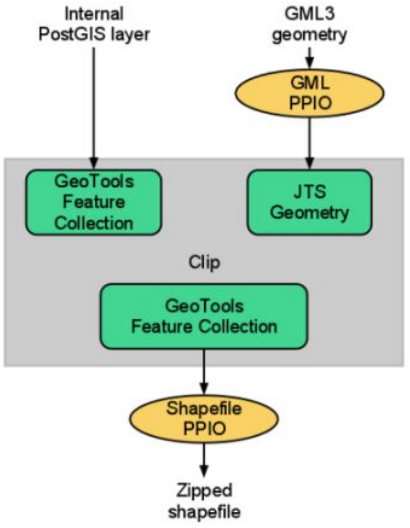

FRONT END

MapLibre

GEOJSON

```
{
  "type": "Feature",
  "geometry": {
    "type": "Point",
    "coordinates": [125.6, 10.1]
  },
  "properties": {
    "name": "Dinagat Islands"
  }
}
```

Turf.js

Advanced geospatial analysis for browsers and Node.js

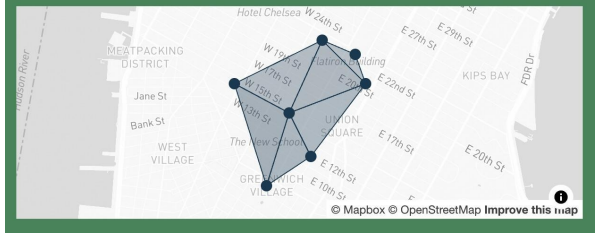

Data Cube

(React JS)

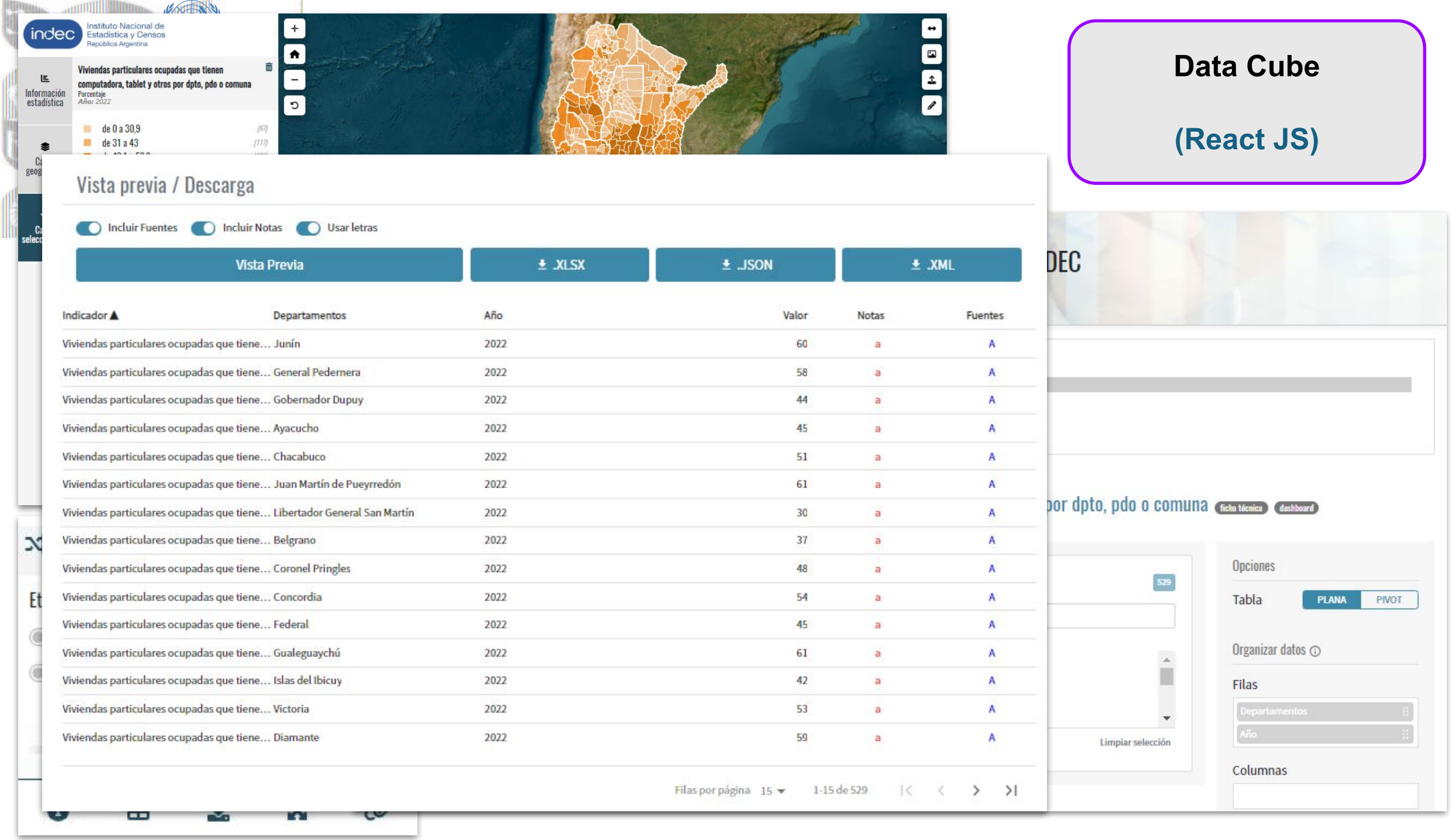

Success Story

Geoportal Implementation

- Paraguay: https://portalgeoestad.ine.gov.py
- Costa Rica: https://geoportal.inec.go.cr/
- Argentina: https://portalgeoestadistico.indec.gob.ar/
- Dominican Republic: https://portalgeoestadistico.one.gob.do/

Code Repository

https://git.cepal.org/geo

UN Open GIS INITIATIVE

Thank you !!!

@aanthienikan.com.ar
osgeo.org